Project Insights: US Natural Disasters Analysis (1953–2017)

Uma Maheswar Reddy V

Table of Contents

1. Executive Summary	1
2. Milestone - 1	2
3. Milestone - 2	3
4. Milestone - 3	4
5. Milestone - 4	5-6
6. Unified Insight Explanation & Visualisations	6-14
7. Conclusion	15
8.Live Dashboard	16

1. Executive Summary

1.1 Project Overview and Mission

This comprehensive data science initiative was launched to analyze over six decades of the Federal Emergency Management Agency (FEMA) Natural Disasters dataset, covering the period from 1953 to 2017. The mission of this project was to transform a vast, unstructured repository of government declarations into a sophisticated analytical framework. By leveraging advanced Python-based data manipulation and visualization techniques, the project aimed to provide a "360-degree view" of the American disaster landscape, focusing on temporal escalation, geographic vulnerability, and the mechanics of federal financial assistance.

1.2 Methodology and Technical Framework

The project was executed through a rigorous four-stage lifecycle, ensuring data integrity at every step:

- **Data Engineering (Milestone 1):** We established a clean, standardized data foundation by resolving inconsistencies, handling null values, and mapping complex categorical strings into machine-readable formats.
- **Exploratory Data Analysis (Milestones 2-4):** We utilized a multi-library approach, employing **Pandas** for deep-data crunching, **Plotly Express** for interactive trend discovery, and **Seaborn** for high-density statistical mapping.

1.3 Strategic Key Findings

Through this multi-layered analysis, three defining patterns emerged that characterize the nature of modern natural disasters in the United States:

1. **The Trend of Escalation:** There is an undeniable and statistically significant increase in the frequency of federal disaster declarations over time. This trend suggests that the federal government is becoming more involved in local recovery efforts, and the environmental "baseline" for a disaster declaration is shifting.
2. **Regional Disaster Signatures:** Disaster risk is not a monolith; it is highly specialized by geography. Our analysis identified distinct "signatures" for different regions—specifically the dominance of **Wildfires in the West (California)** and **Hurricanes in the Southeast (Florida/Louisiana)**.
3. **The Infrastructure-First Response Model:** A critical discovery was made regarding federal aid: the government's response is structurally biased toward **Public Assistance (PA)**. This indicates that the primary goal of federal intervention is the rapid restoration of public infrastructure (roads, bridges, utilities), which serves as the prerequisite for all other recovery activities.

Milestone 1 – Data Foundations and Quality Engineering

2.1 Phase Objective

The primary goal of Milestone 1 was to establish a rigorous data foundation by transforming a raw, unorganized FEMA dataset into a high-integrity, "analysis-ready" format. Before any high-level trends could be identified, it was essential to ensure that the underlying data was consistent, logically structured, and free of anomalies that could skew later statistical results.

2.2 Technical Methodology

The data engineering process involved several critical stages of cleaning and transformation using the **Pandas** library:

- **Schema Standardization:** The original dataset contained long, cumbersome column headers. We renamed these to concise, developer-friendly identifiers (e.g., transforming individualsAndHouseholdsProgram into ihProgramDeclared) to streamline the coding process in subsequent milestones.
- **Boolean-to-Integer Mapping:** One of the most critical steps was converting categorical string values ("Yes" and "No") into binary integers (1 and 0). This was not merely a formatting change; it was a prerequisite for the mathematical aggregations and frequency sums performed in Milestone 4.
- **Data Type Validation:** We enforced strict data types across the dataframe, ensuring that temporal columns were recognized as dates and assistance indicators were recognized as numerical literals, preventing calculation errors during the analysis phase.

2.3 Handling Missing Values and Outliers

A significant portion of this milestone was dedicated to data cleaning:

- **Null Value Strategy:** We identified and addressed missing entries in critical fields such as incidentType and state. By removing or imputing these values, we prevented gaps in our geographic and categorical mappings.
- **Standardizing Incidents:** We performed a "clean-up" of the disaster categories to ensure that similar events were grouped together correctly, which later allowed for the accurate volume counts seen in the incident distribution analysis.

2.4 Insight: The Value of a Clean Foundation

The primary learning from this milestone was that **data quality dictates analytical accuracy**. By investing heavily in the cleaning phase, we eliminated the risk of "garbage in, garbage out." The resulting file, usnd_cleaned.csv, served as the immutable source of truth for the entire project, allowing us to move into temporal and geographic analysis with absolute confidence in our numbers.

Milestone 2 – Temporal Trends and Seasonal Dynamics

3.1 Phase Objective

The objective of Milestone 2 was to shift the analysis toward the dimension of time. After establishing a clean dataset in Milestone 1, we aimed to determine whether the frequency of natural disasters in the United States is increasing and if specific times of the year pose a statistically higher risk for federal emergency declarations.

3.2 Technical Methodology

To uncover these chronological patterns, we utilized **Time-Series Analysis** techniques within the **Pandas** and **Plotly** frameworks:

- **Feature Engineering:** We extracted `Year` and `Month` components from the raw declaration dates to allow for both long-term trend tracking and cyclical seasonality studies.
- **Data Resampling:** We aggregated declarations by year to create a continuous timeline from 1953 to 2017. This enabled us to smooth out daily fluctuations and focus on the broader historical trajectory of the data.
- **Visualizing the Timeline:** A **Line Chart** was deployed to visualize the "Disaster Trajectory." This interactive visualization allowed us to pinpoint specific historical anomalies and verify the overall growth rate of federal involvement.

3.3 Key Findings: The Escalation of Risk

- **The Decadal Upward Trend:** The data confirmed a clear, steady increase in the number of disaster declarations over the 64-year period. This suggests that either the severity of environmental events is rising, or the criteria for federal intervention have become more inclusive over time.
- **Peak Seasonality (The "Hurricane Effect"):** By generating a **Bar Chart** of monthly distributions, we identified a massive surge in declarations during **August and September**. This confirms that the Atlantic hurricane season is the single largest driver of the federal disaster workload, followed closely by a secondary peak in the spring due to flooding and tornadoes.
- **Historical Anomalies:** The year **2005** was identified as a major statistical outlier, with the highest volume of declarations in recorded history,

3.4 Insight: Time as a Predictive Tool

The primary takeaway from Milestone 2 is that **disasters are predictable in their timing, even if they are random in their occurrence**. By understanding these seasonal "danger zones," federal and state agencies can optimize their resource staging and budget allocations to prepare for the inevitable spikes in August and September.

Milestone 3 – Geographic Distribution and Spatial Hotspots

4.1 Phase Objective

The objective of Milestone 3 was to transition from a temporal analysis to a spatial one. After understanding *when* disasters occur, it was critical to identify *where* they are most concentrated. This phase aimed to map the geographic "risk profile" of the United States and identify the specific states that serve as the primary drivers for federal disaster declarations.

4.2 Technical Methodology

To conduct this large-scale geospatial investigation, we integrated coordinate-based data with our historical records:

- **Geospatial Mapping:** We utilized **Choropleth Maps** to visualize the density of disasters across all 50 states. This allowed us to move beyond simple lists and see the literal "shape" of risk across the American landscape.
- **State-Level Ranking:** We performed high-level aggregations to rank states by their total declaration counts from 1953 to 2017. This statistical ranking provided the "Top 10" list used for the deep-dive composition analysis in the following milestone.
- **Interactive Filtering:** Using **Plotly's** interactive features, we enabled hovering capabilities on our maps, allowing for the immediate retrieval of exact declaration counts for any specific state directly from the visual interface.

4.3 Key Findings: The Geography of Risk

The spatial analysis revealed that disaster risk is far from uniform across the country:

- **The National Leaders: Texas (TX)** and **California (CA)** were identified as the clear leaders in disaster frequency. These two states alone represent a massive percentage of the federal workload, largely due to their immense size, diverse climates, and unique environmental vulnerabilities.
- **The "Gulf Coast Corridor":** States such as **Florida (FL)** and **Louisiana (LA)** showed a high concentration of declarations, primarily linked to their exposure to the Atlantic and Gulf hurricane seasons.
- **The Midwestern Storm Belt:** A secondary cluster of high activity was identified in the Midwest (including Missouri and Kentucky), where severe storms and floods are common occurrences throughout the spring and summer months.

4.4 Insight: Geography as a Predictor of Policy

The primary takeaway from Milestone 3 is that **geography is the strongest predictor of federal disaster burden**. By identifying these hotspots, federal agencies can better understand where to station permanent recovery centers and how to tailor state-specific emergency management grants. This mapping laid the essential groundwork for Milestone 4, where we analyzed the specific *types* of disasters that define these high-risk regions.

Milestone 4 – Incident Analysis and Assistance Correlation

5.1 Phase Objective

The objective of the final milestone was to conduct a granular investigation into the specific nature of the disasters and the subsequent federal financial response. While previous milestones identified "when" and "where" disasters occurred, Milestone 4 sought to categorize "what" these incidents were and evaluate the "how" of the recovery process by analyzing the activation of specific federal aid programs.

5.2 Technical Methodology

This phase required the most advanced data transformation and visualization logic of the project:

- **Binary Assistance Mapping:** We utilized a mapping dictionary to convert the "Yes/No" string indicators for Individual Housing (IH) and Public Assistance (PA) into numerical integers. This allowed us to perform mathematical summations to determine which disasters placed the heaviest financial burden on the government.
- **Matrix Pivoting and Heatmapping:** We generated a high-density matrix of `state` vs. `incidentType` to calculate the frequency of every possible combination. This was visualized using a **Seaborn Heatmap**, where color intensity represented the density of specific disaster types per state.
- **Categorical Treemapping:** To visualize the overall "composition" of the U.S. disaster landscape, we employed a **Treemap**. This provided a hierarchical view of the dataset, where the size of each block represented the total count of declarations for that specific incident type.

5.3 Key Findings: The Nature of the Federal Burden

The final analysis produced critical insights into the relationship between disaster types and federal aid:

- **The Dominance of Weather:** The incident distribution confirmed that **Storms (16,250)**, **Floods (9,317)**, and **Hurricanes (8,764)** drive the vast majority of federal activity. These three categories alone account for nearly 75% of the entire 64-year dataset.
- **Regional Disaster Signatures:** The heatmap analysis proved that disaster risk is highly specialized. We identified clear "signatures," such as the concentration of **Fire in California** and the density of **Hurricanes in Florida and Louisiana**. Texas emerged as a "Multi-Threat" state, ranking highly across the widest variety of incident types.
- **The Infrastructure Assistance Gap:** A side-by-side comparison of aid programs revealed that **Public Assistance (PA)** is triggered significantly more often than **Individual Housing (IH)** aid for almost every disaster type. This highlights that thefederal role is primarily focused on restoring public infrastructure and utilities rather than direct private residential aid.

5.4 Insight: Data-Driven Resource Allocation

The primary takeaway from Milestone 4 is that **the nature of the incident dictates the federal budget**. By understanding that infrastructure repair (PA) is the most frequent cost, policymakers can better prepare for the massive financial outlays required following high-frequency events like Storms and Floods.

6.Unified Insight Explanation & Visualizations

6.1 Connecting the Milestones

The value of this project lies in the intersection of time, geography, and incident type. By synthesizing the findings from Milestones 1 through 4, we can draw a unified conclusion about the state of natural disasters in the United States:

1. **The Relationship Between Time and Frequency:** Milestone 2 proved that disaster frequency is trending upward. When combined with the incident analysis in Milestone 4, we see that this growth is largely driven by high-frequency "Atmospheric" events like Storms and Floods, which have become more regular occurrences in the modern era.
2. **The Geography of Incident Specialization:** Milestone 3 identified Texas and California as national hotspots. Milestone 4 explained *why*: California's high ranking is driven by a specialized "Fire Signature," while Texas's ranking is due to its "Multi-Threat" status, suffering from hurricanes, floods, and storms simultaneously.
3. **The Financial Reality of Federal Aid:** Our analysis of assistance programs (Milestone 4) confirms that the increasing frequency of disasters (Milestone 2) translates directly into an escalating burden on **Public Assistance (PA)** infrastructure budgets. Because PA is triggered more often than individual aid, the federal government's long-term disaster strategy is effectively a strategy for infrastructure resilience.

6.2 Project Summary & Conclusion

This 4-phase investigation has successfully transformed 64 years of raw FEMA records into a coherent analytical model.

- **Phase 1** ensured the data was accurate.
- **Phase 2** identified the 2005 peak and the August/September danger zone.
- **Phase 3** mapped the physical concentration of risk in the South and West.
- **Phase 4** revealed the dominance of Storms and the infrastructure-heavy nature of federal aid.

Final Remark: As climate-related incidents continue to increase in frequency, data-driven insights—like those generated in this project—will be essential for emergency managers to allocate resources effectively and for policymakers to understand the true geographic and financial scale of natural disasters in America.

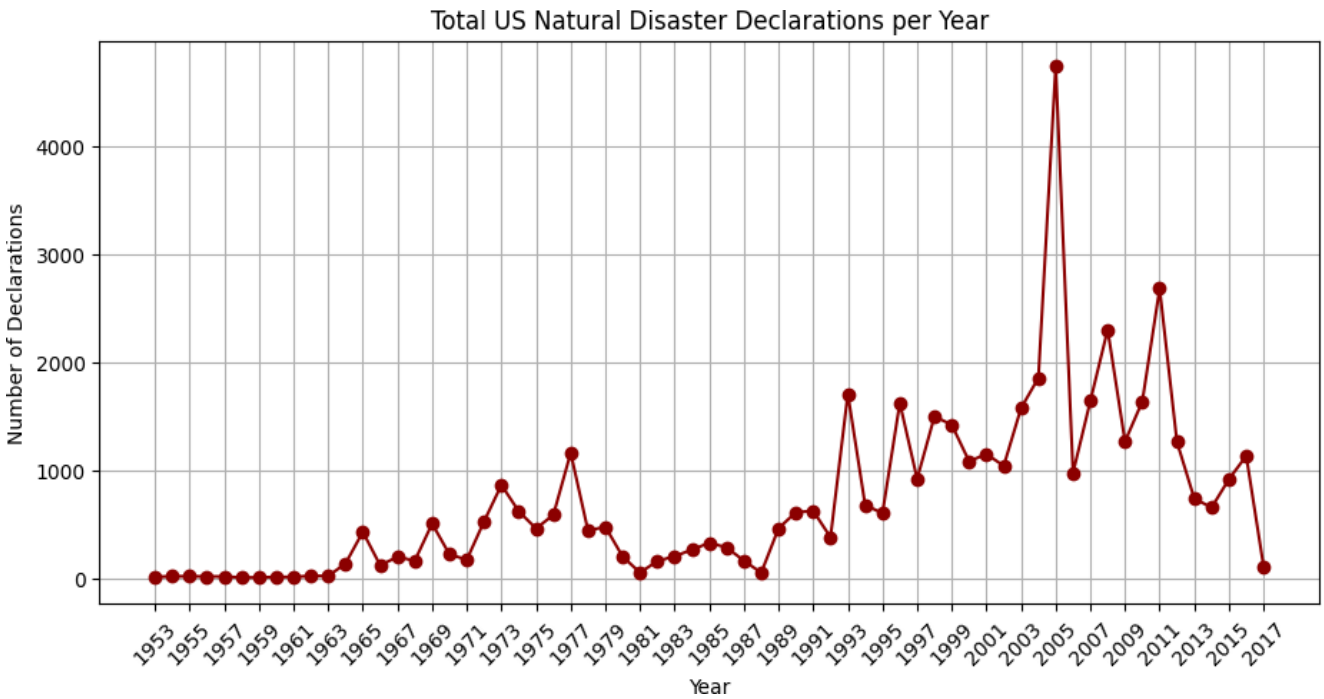
Total US Natural Disaster Declarations per Year
Number of Declarations
Year

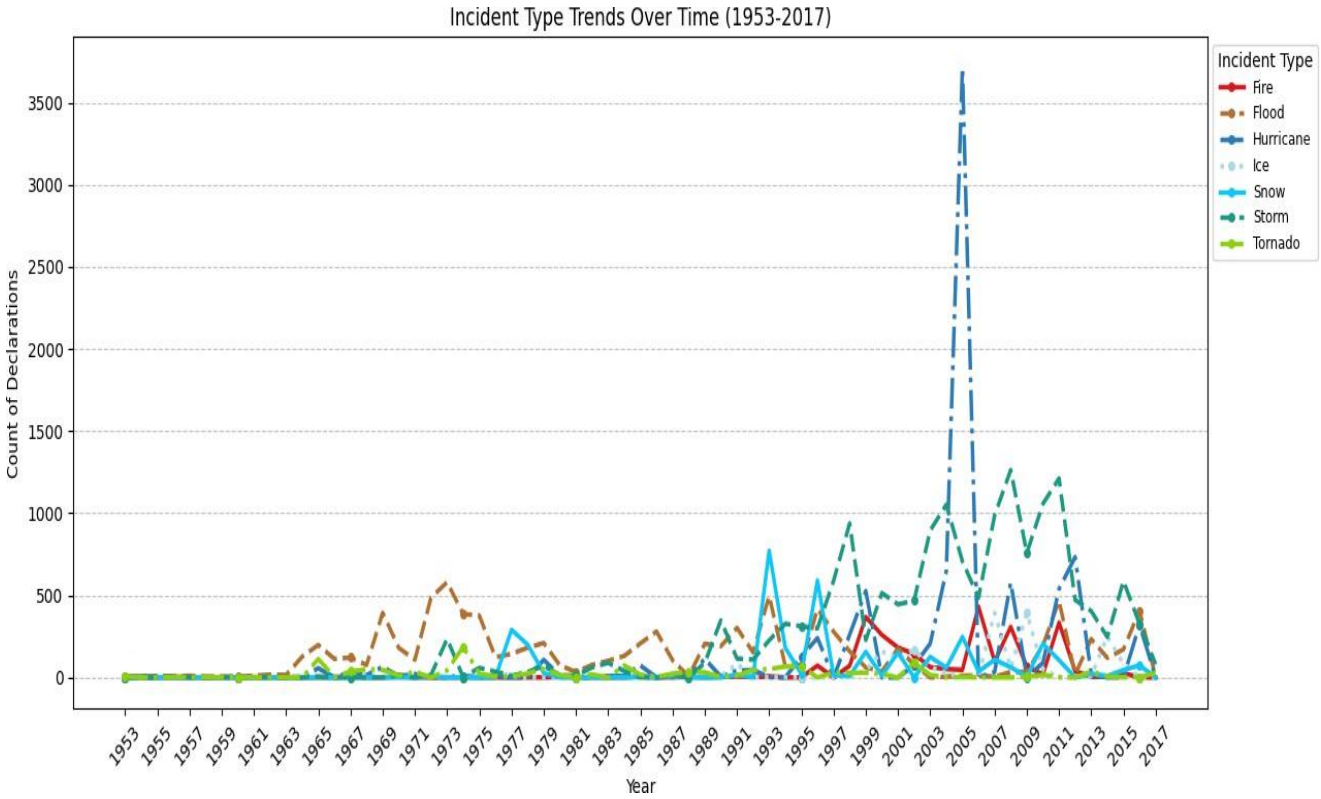
Incident Type Trends Over Time (1953-2017)
Count of Declarations
Year
Incident Type
Fire
Flood
Hurricane
Ice
Snow
Storm
Tornado

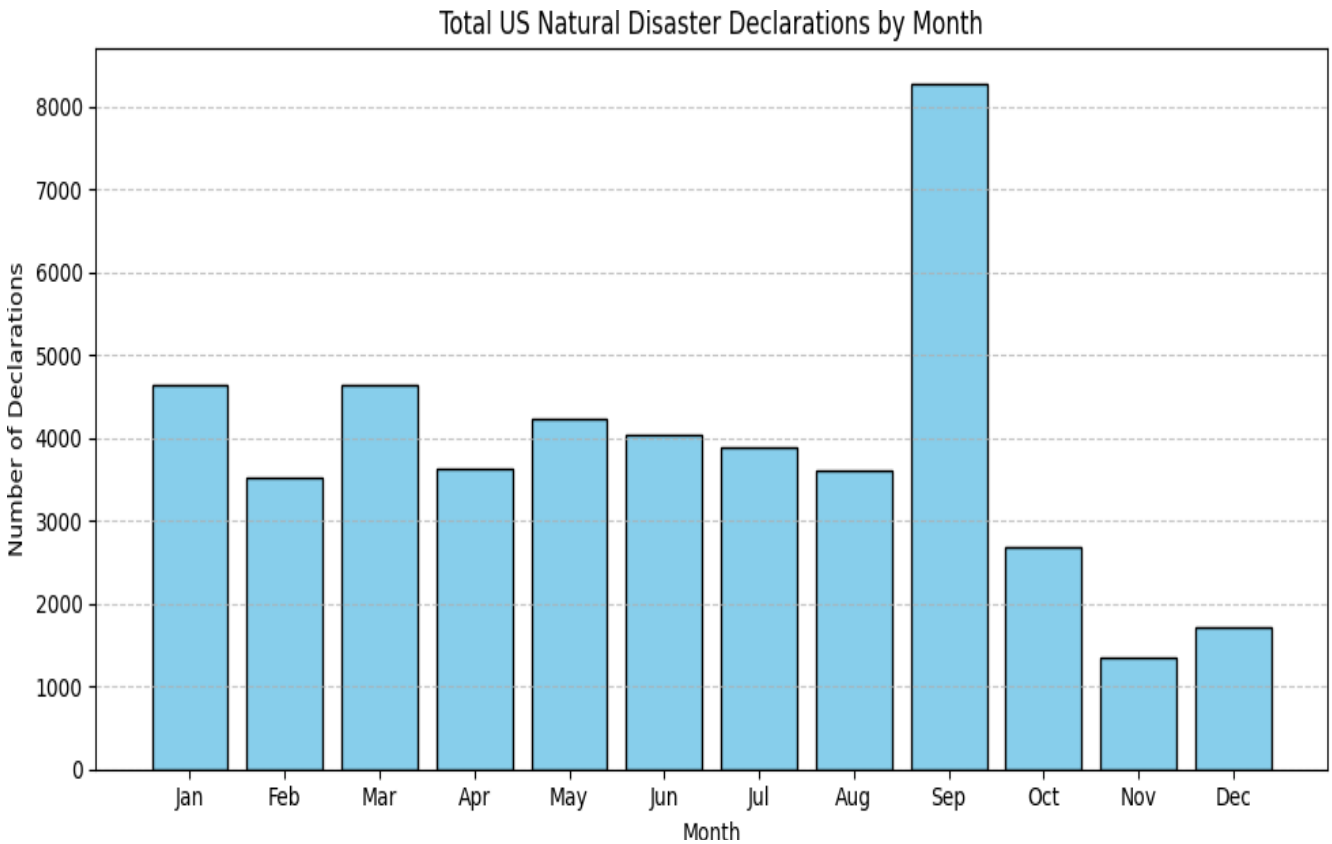
Total US Natural Disaster Declarations by Month
Number of Declarations
0
1000
2000
3000
4000
5000
6000
7000
8000
Jan
Feb
Mar
Apr
May
Jun
Jul
Aug
Sep
Oct
Nov
Dec
Month

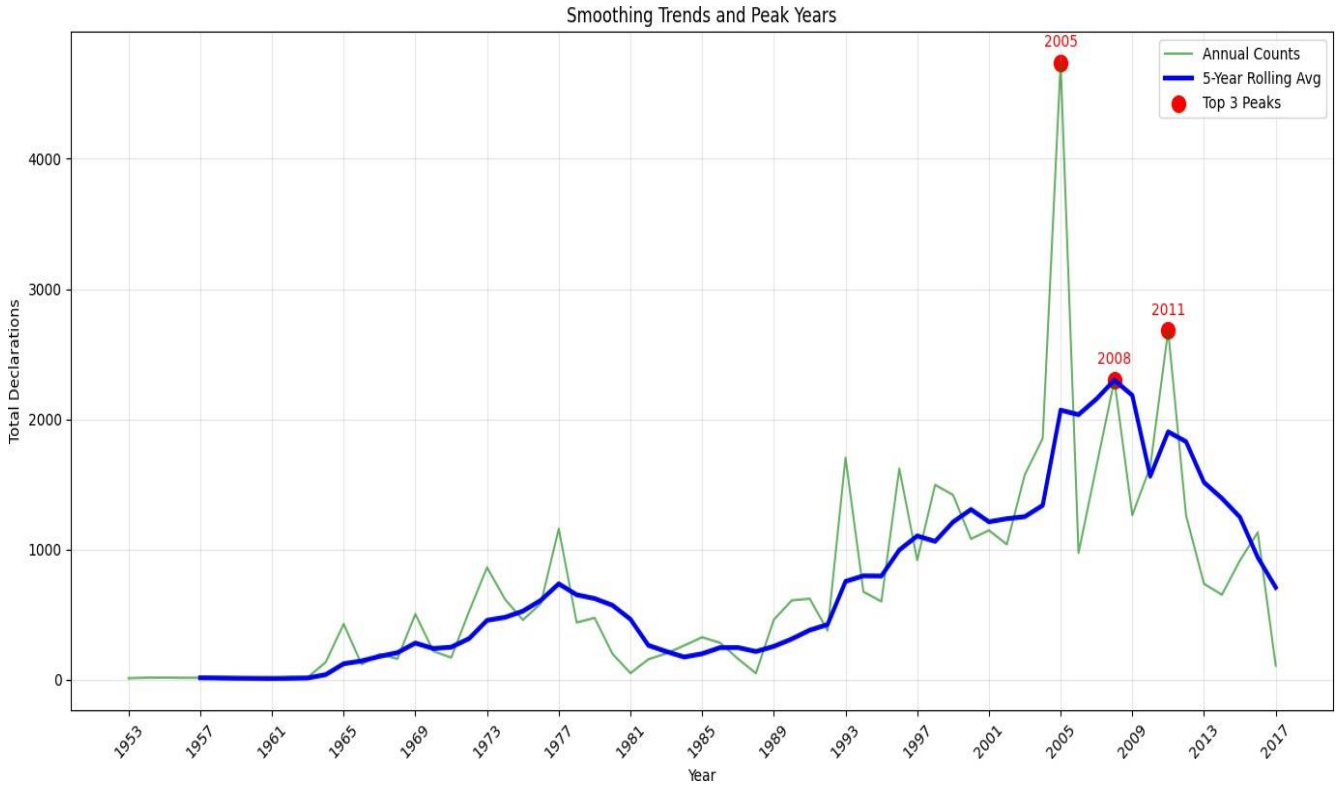
Smoothing Trends and Peak Years
Annual Counts
5-Year Rolling Avg
Top 3 Peaks
2005
2008
2011
Total Declarations
0
1000
2000
3000
4000
1953
1957
1961
1965
1969
1973
1977
1981
1985
1989
1993
1997
2001
2005
2009
2013
2017
Year

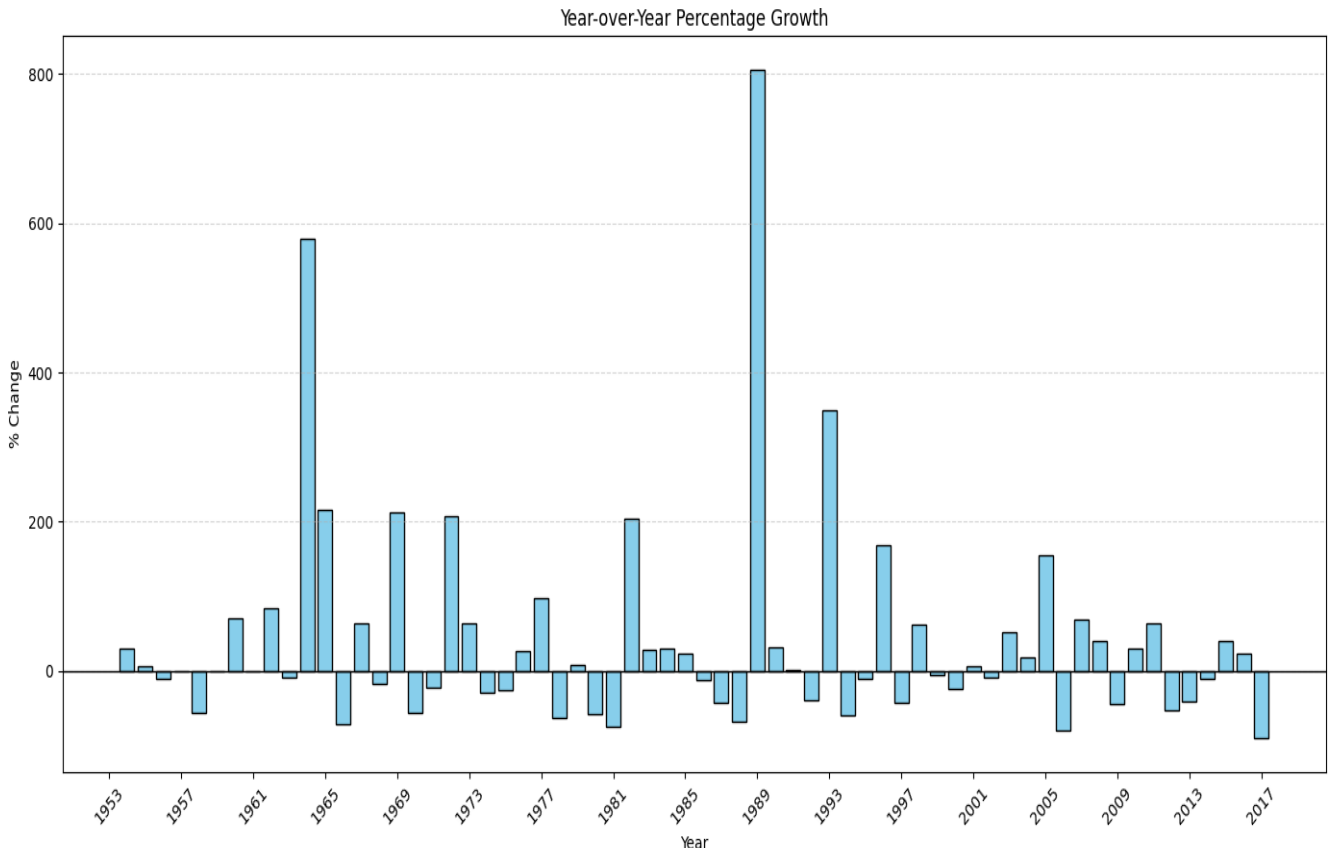

4.1 US Disaster Hotspots: Choropleth Map (1953-2017)

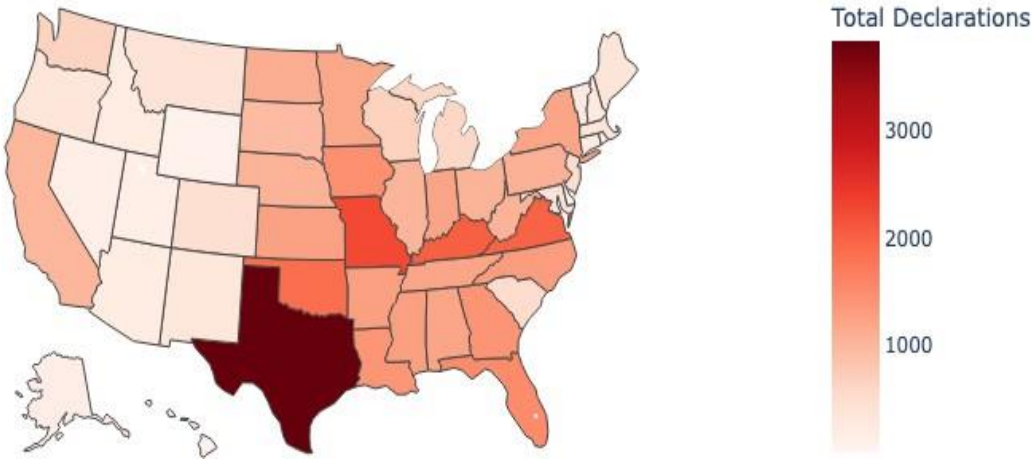

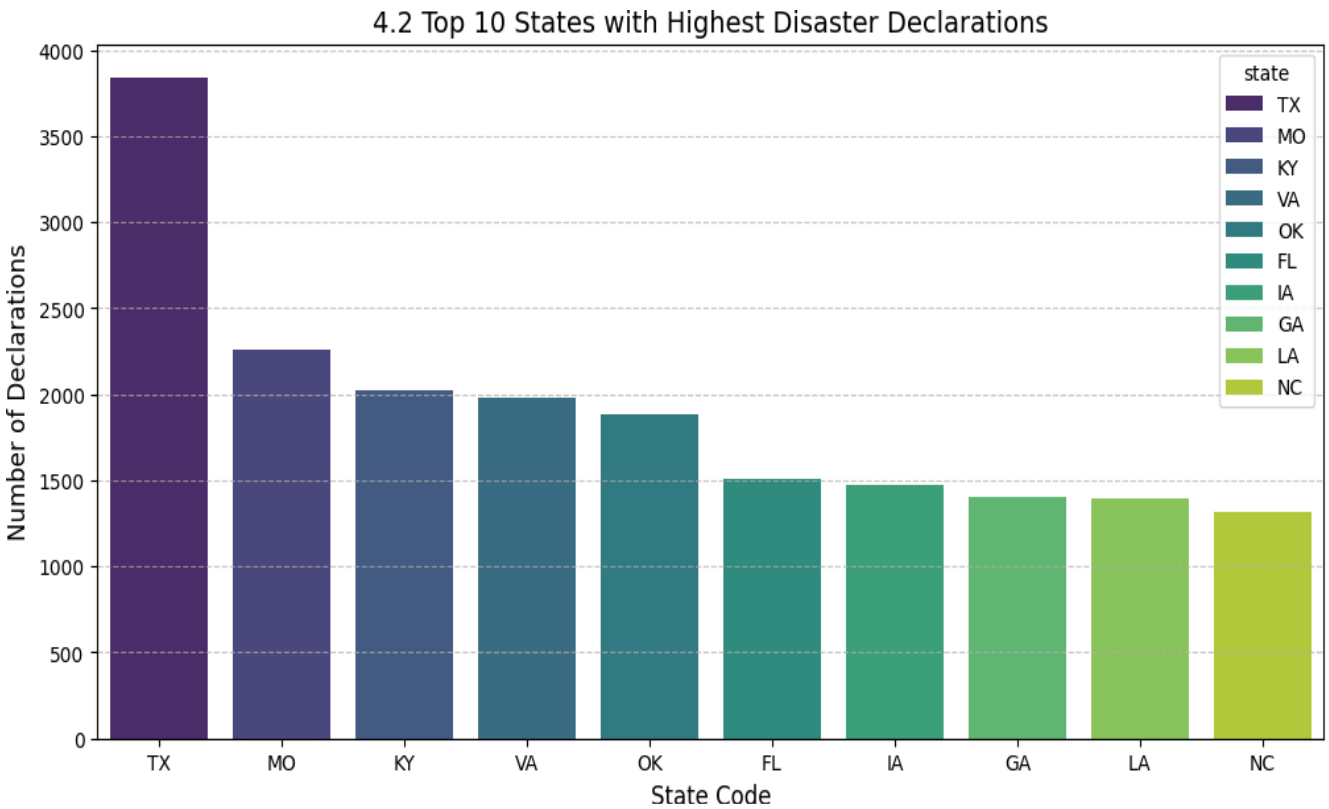
4.2 Top 10 States with Highest Disaster Declarations
Number of Declarations
State Code
0
500
1000
1500
2000
2500
3000
3500
4000
TX
MO
KY
VA
OK
FL
IA
GA
LA
NC
state
TX
MO
KY
VA
OK
FL
IA
GA
LA
NC

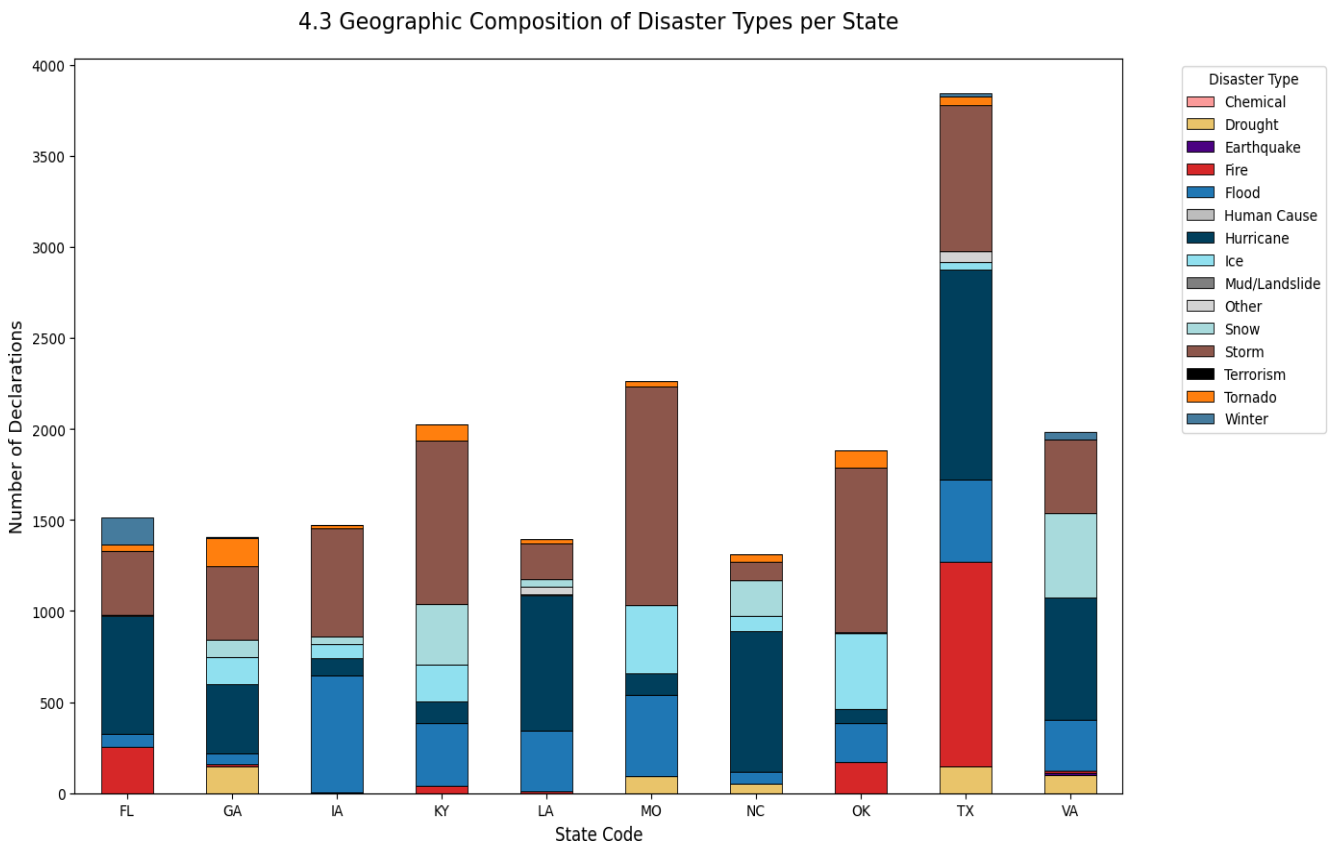
4.3 Geographic Composition of Disaster Types per State
Number of Declarations
State Code
0
500
1000
1500
2000
2500
3000
3500
4000
FL
GA
IA
KY
LA
MO
NC
OK
TX
VA
Disaster Type
Chemical
Drought
Earthquake
Fire
Flood
Human Cause
Hurricane
Ice
Mud/Landslide
Other
Snow
Storm
Terrorism
Tornado
Winter

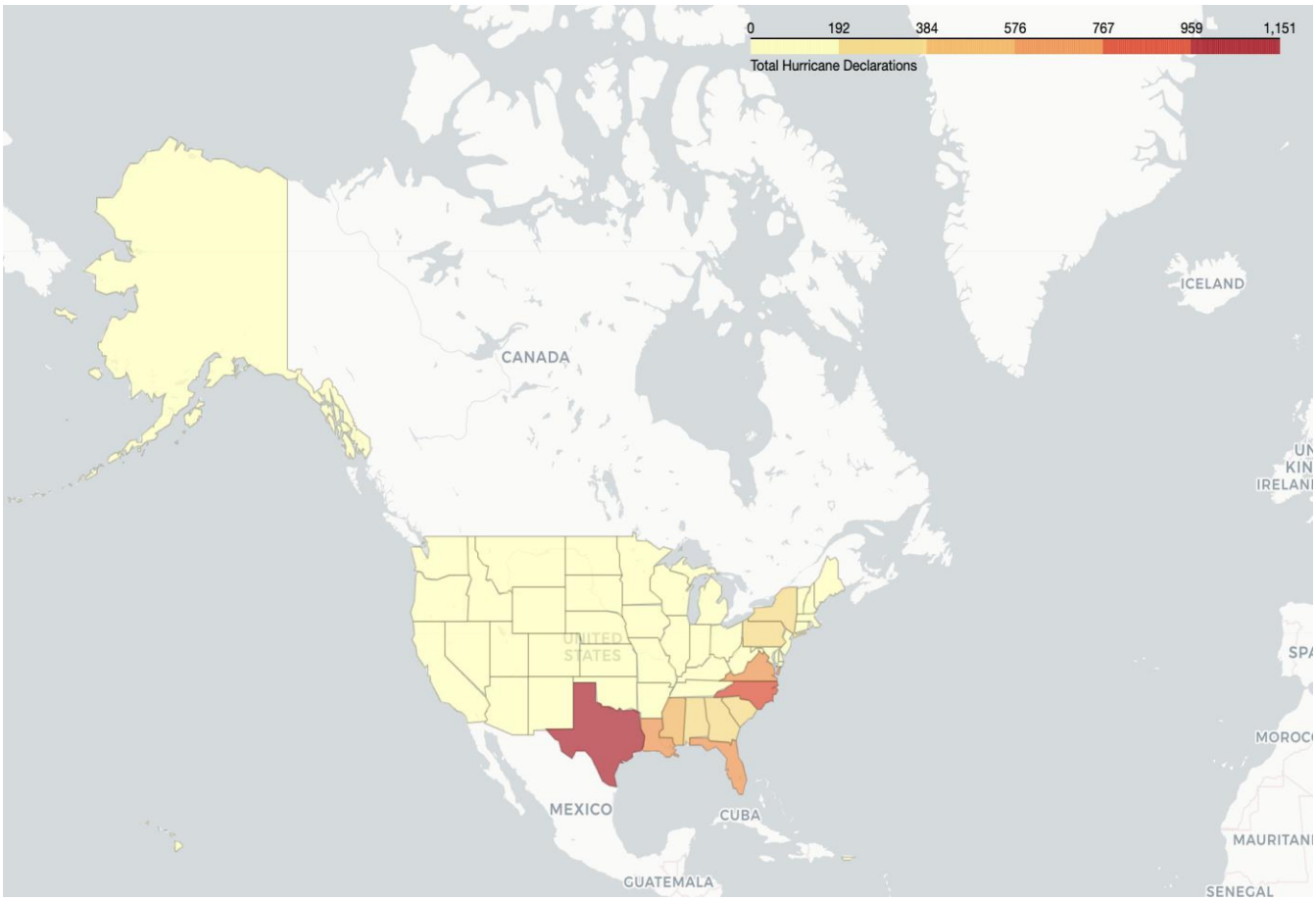

Milestone 4: US Natural Disaster Composition (Treemap)

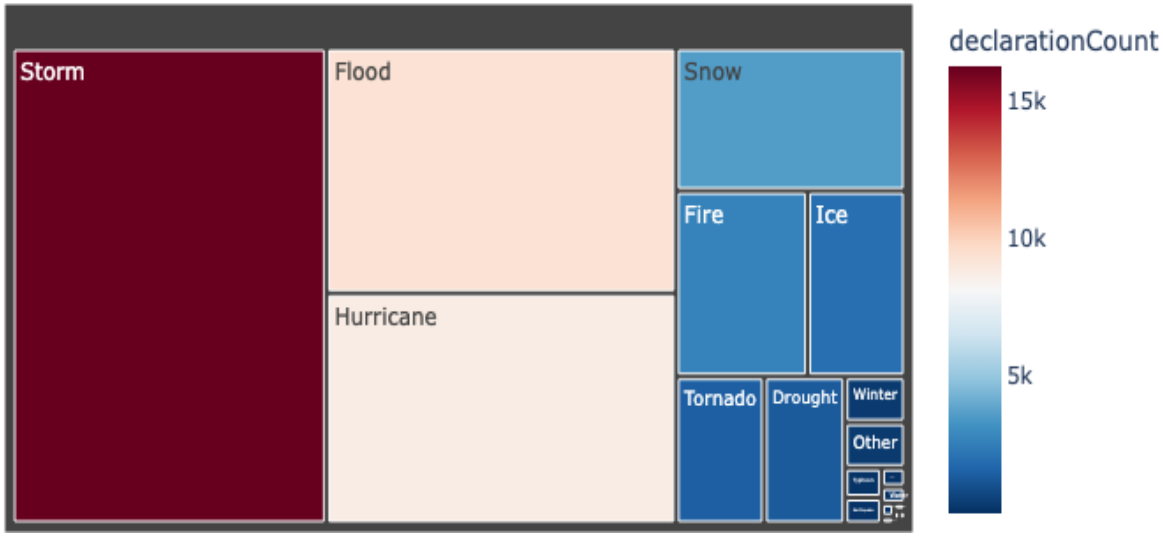

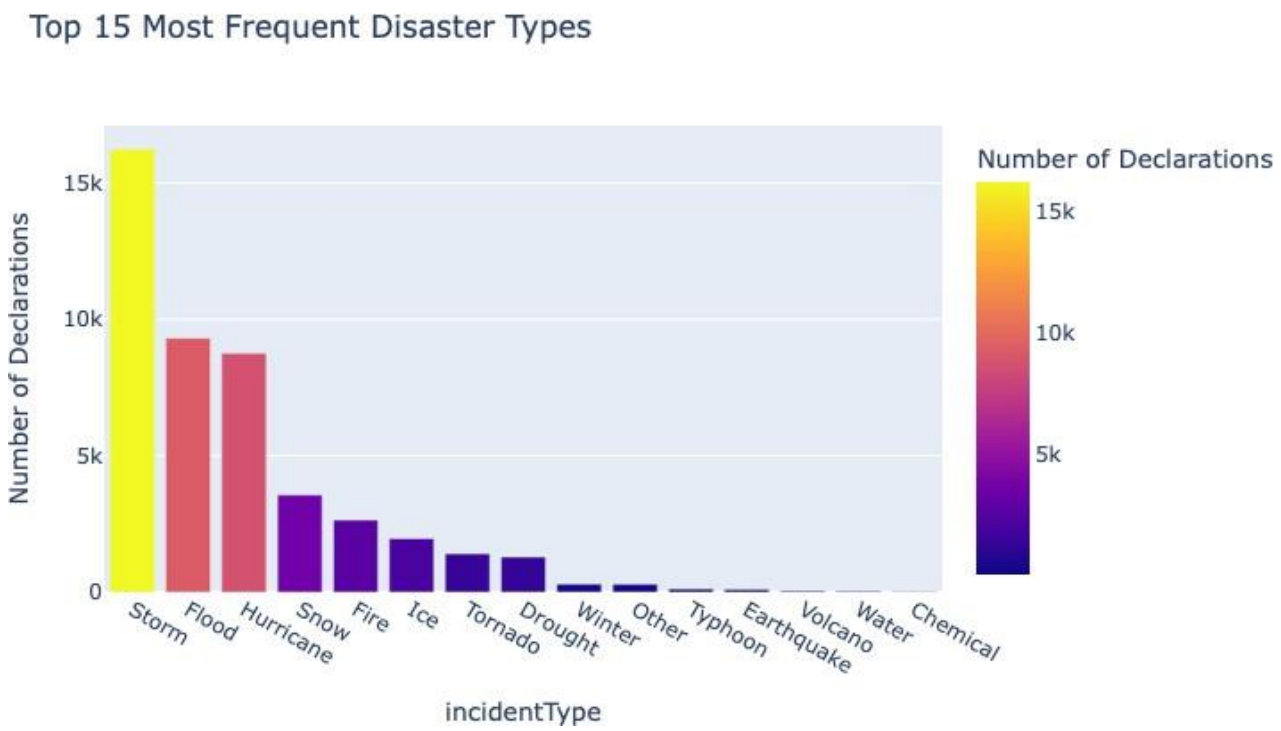
Top 15 Most Frequent Disaster Types
Number of Declarations
15k
10k
5k
0
Storm
Flood
Hurricane
Snow
Fire
Ice
Tornado
Drought
Winter
Other
Typhoon
Earthquake
Volcano
Water
Chemical
incidentType
Number of Declarations
15k
10k
5k

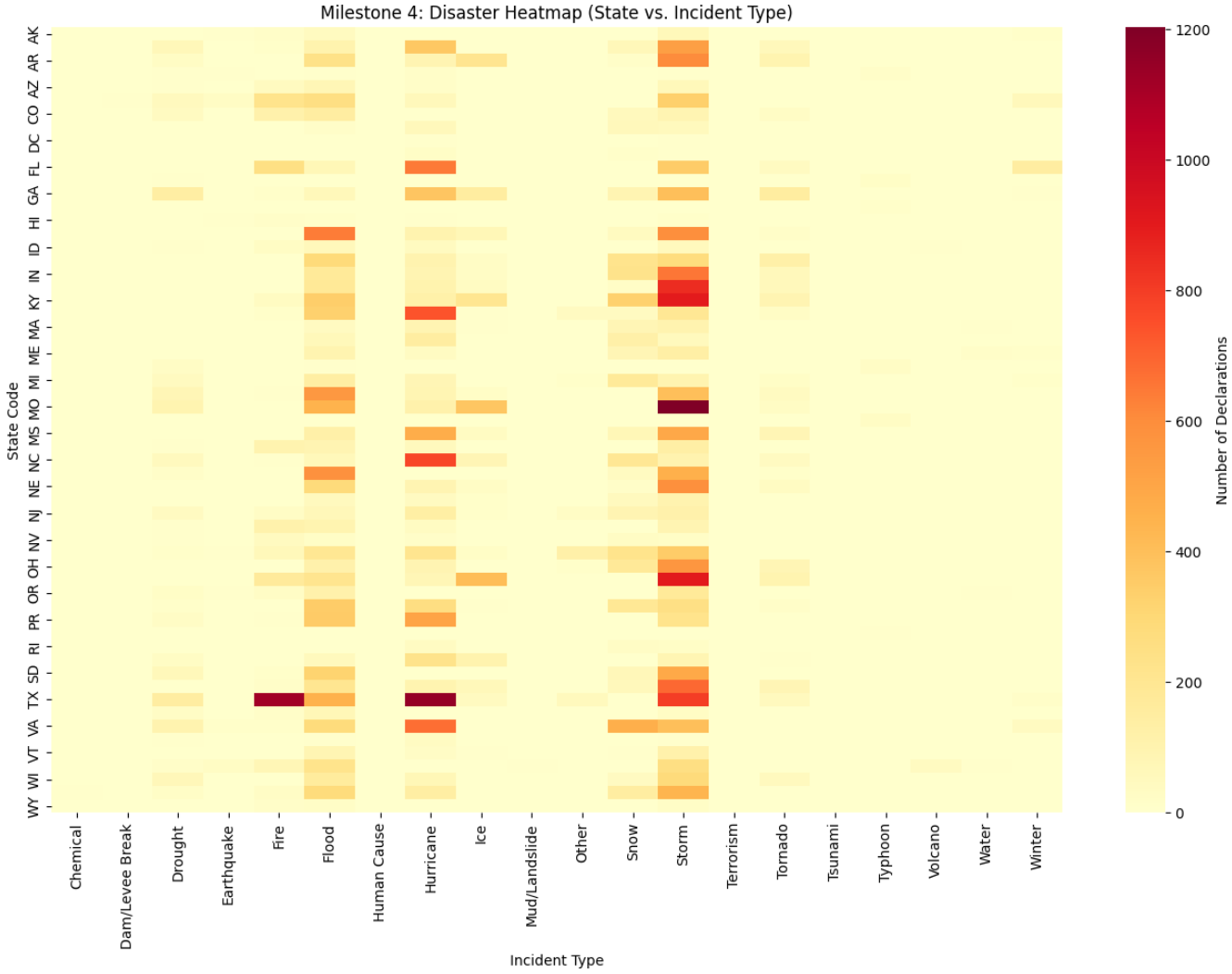
Milestone 4: Disaster Heatmap (State vs. Incident Type)
State Code
AK AR AZ CO DC FL GA HI ID IN KY MA ME MI MO MS NC NE NJ NV OH OR PR RI SD TX VA VT WI WY
Chemical
Dam/Levee Break
Drought
Earthquake
Fire
Flood
Human Cause
Hurricane
Ice
Mud/Landslide
Other
Snow
Storm
Terrorism
Tornado
Tsunami
Typhoon
Volcano
Water
Winter
Incident Type
Number of Declarations
1200
1000
800
600
400
200
0

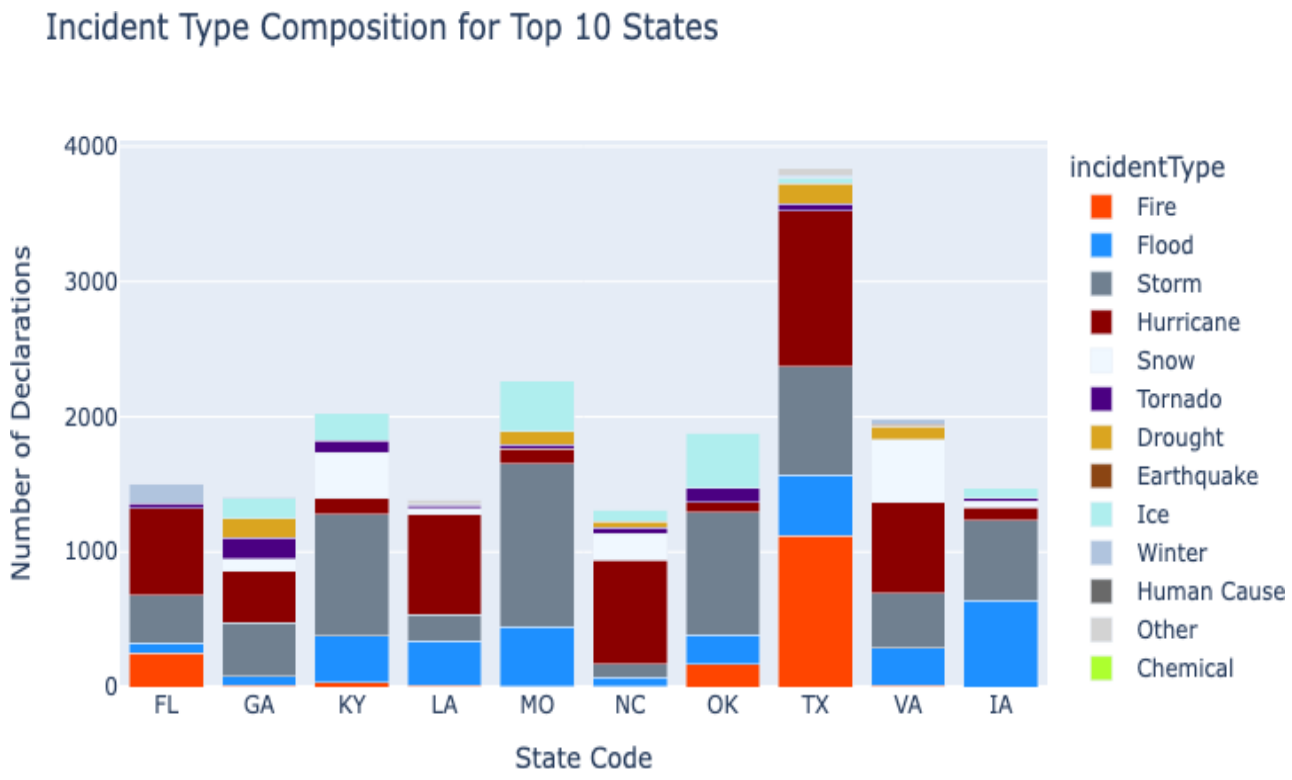
Incident Type Composition for Top 10 States
Number of Declarations
4000
3000
2000
1000
0
FL
GA
KY
LA
MO
NC
OK
TX
VA
IA
State Code
incidentType
Fire
Flood
Storm
Hurricane
Snow
Tornado
Drought
Earthquake
Ice
Winter
Human Cause
Other
Chemical

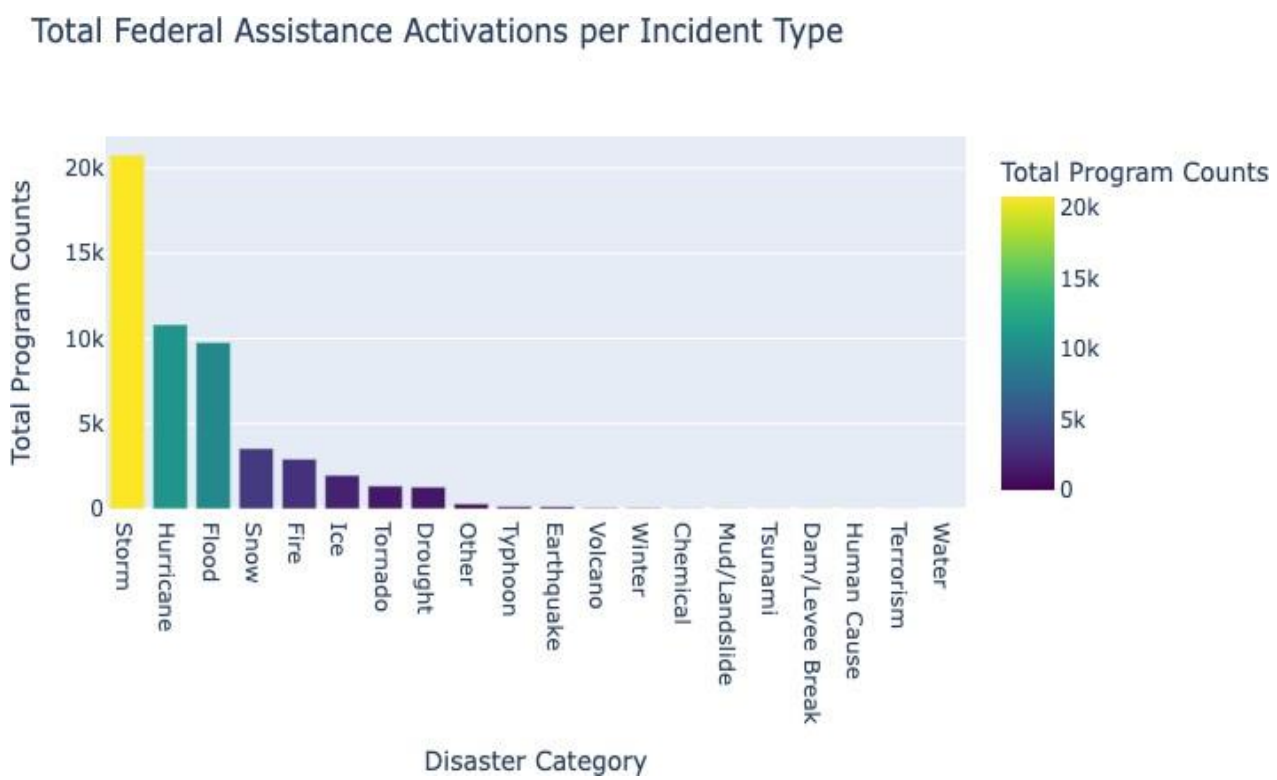
Total Federal Assistance Activations per Incident Type
Total Program Counts
20k
15k
10k
5k
0
Storm
Hurricane
Flood
Snow
Fire
Ice
Tornado
Drought
Other
Typhoon
Earthquake
Volcano
Winter
Chemical
Mud/Landslide
Tsunami
Dam/Levee Break
Human Cause
Terrorism
Water
Disaster Category
Total Program Counts
20k
15k
10k
5k
0

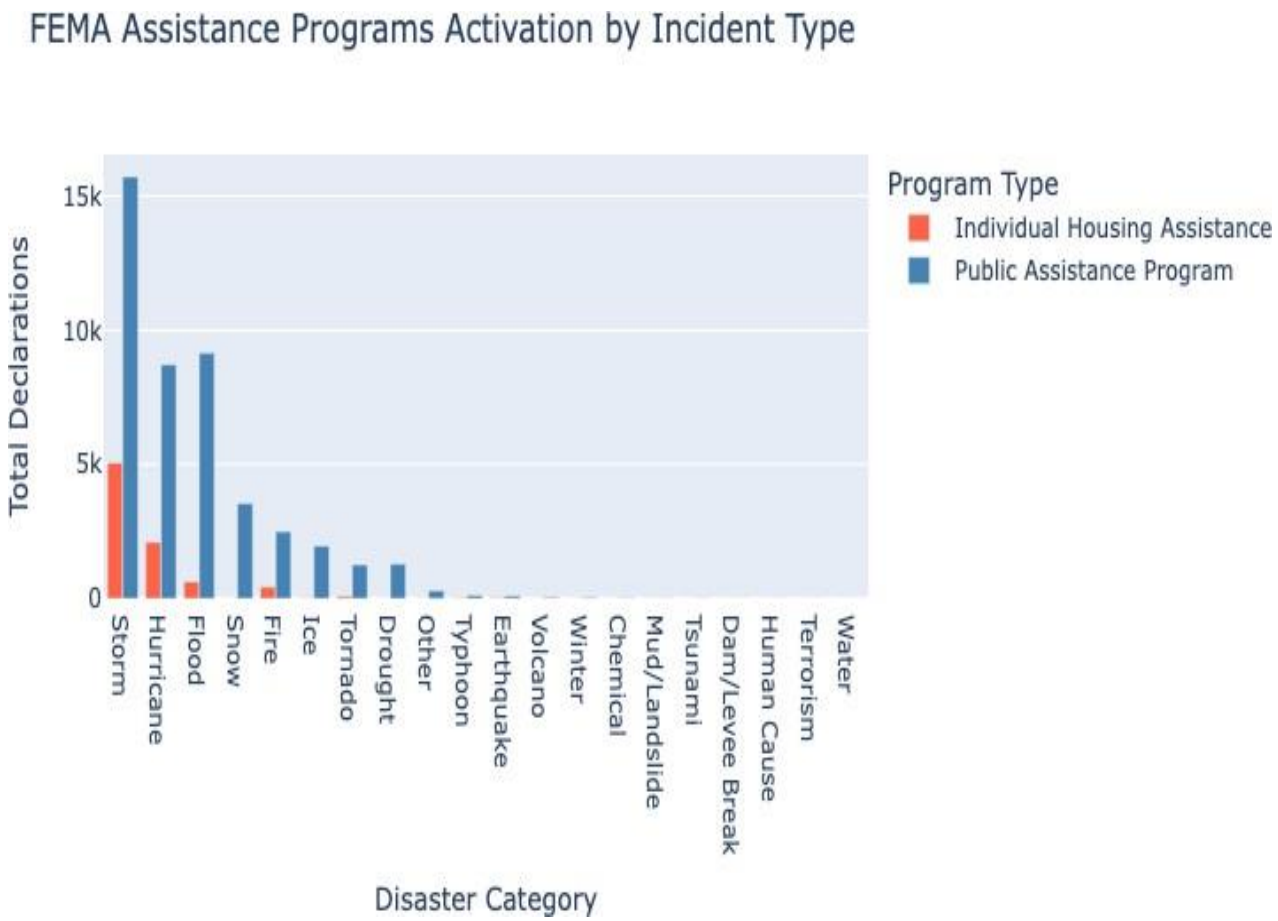
FEMA Assistance Programs Activation by Incident Type
Total Declarations
15k
10k
5k
0
Storm
Hurricane
Flood
Snow
Fire
Ice
Tornado
Drought
Other
Typhoon
Earthquake
Volcano
Winter
Chemical
Mud/Landslide
Tsunami
Dam/Levee Break
Human Cause
Terrorism
Water
Disaster Category
Program Type
Individual Housing Assistance
Public Assistance Program

7. Project Conclusion & Strategic Recommendations

7.1 Final Project Synthesis

This comprehensive study of US Natural Disasters (1953–2017) has successfully transformed nearly 50,000 raw FEMA records into a clear, data-driven narrative. By progressing through four distinct milestones, we have moved from fundamental data engineering to complex geospatial and programmatic analysis.

The project has proven that natural disasters are not static events; they are dynamic, increasing in frequency, and highly specialized by region. Our findings confirm that while the American disaster landscape is dominated by high-frequency weather events, the federal response is strategically anchored in infrastructure restoration through Public Assistance.

7.2 Summary of Key Insights

- **The Temporal Baseline:** There is a definitive upward trajectory in disaster declarations. The "new normal" for federal emergency management involves responding to more frequent shocks, with peak readiness required during the August–September hurricane window.
- **Geographic Specialization:** National hotspots like Texas and California require specialized disaster strategies. Emergency management is not "one size fits all"—the West must prioritize fire resilience, while the Southeast must prioritize hydrological and wind resistance.
- **Assistance Logic:** The federal government's primary role is that of an "Infrastructure Insurer." By triggering Public Assistance (PA) more frequently than Individual Housing (IH) aid, the government ensures that the public foundation (roads, power, water) is restored as a prerequisite for individual recovery.

7.3 Future Outlook

As climate patterns continue to evolve, the historical data suggests that the burden on federal resources will continue to grow. The methodologies established in this project—specifically the use of automated cleaning pipelines, interactive geospatial mapping, and assistance correlation—provide a scalable framework for future predictive modeling.

7.4 Final Remark

Through this internship, we have demonstrated that data science is an essential tool for modern emergency management. By utilizing Python and its analytical ecosystem, we have successfully identified the patterns that will help policymakers and emergency managers better allocate resources, protect communities, and build a more resilient nation.

8. Project Deliverables & Interactive Access

8.1 Real-Time Analytics Dashboard

The analytical findings from Milestones 1–4 have been integrated into a high-performance interactive web application. This dashboard serves as the final functional component of the internship, providing a dynamic interface for exploring 64 years of disaster data.

- **Technology & Hosting:** Built using the Streamlit framework and deployed via Vercel, ensuring high availability and a modern user interface.
- **Interactive Features:** * **Dynamic Filtering:** Users can toggle between specific states and filter by disaster categories (e.g., Fire, Flood, Hurricane).
    - **Assistance Analysis:** Real-time calculation of Public Assistance (PA) and Individual Assistance (IA) activations.
    - **Geospatial Visualization:** An interactive map allowing for hover-over data retrieval for every U.S. state.
    - **Temporal Comparisons:** High-resolution charts showing the frequency of declarations over the 1953–2017 timeline.

Access the Live Dashboard here: https://u-s-natural-disaster-dashboard.vercel.app